Updated Report: System Dynamics Modeling of the Effect of Greenhouse Gases on Glaciers

Anishek Kumar Chaudhary (24M0787)
Pratik Man Shah (24M0856) Ritika Jaiswal (24M0855)
Rohit Agrawal (24M0744)

1 Introduction and Overview of Updates

This report details the recent structural and mathematical updates made to the System Dynamics Model evaluating the impact of anthropogenic greenhouse gases on glacial mass, focusing on the Himalayan region. The primary objective of this revision was to transition the model from a purely conceptual framework into a mathematically rigorous simulation capable of predictive quantitative analysis.

While the preliminary model successfully mapped the qualitative behavioral archetypes driving glacial melt—such as the ice-albedo reinforcing loop—it was limited in its ability to test specific policy interventions or predict threshold timelines. To address this, key upgrades have been engineered into the system architecture. These include the implementation of logarithmic climate forcing to reflect atmospheric physics, the expansion of the carbon cycle to include dynamically constrained sinks, and the introduction of a permafrost thaw tipping point. Collectively, these additions provide a high-fidelity, numerically grounded representation of the cascading feedback loops that drive ice mass degradation, govern surface runoff, and ultimately dictate downstream flood risks.

2 Details of Model Changes and Enhancements

2.1 Transition to Mathematical Rigor and Calibration

The foundational Causal Loop Diagrams (CLDs) have been fully translated into quantifiable Stock and Flow structures. The model now utilizes sets of coupled differential equations to track the accumulation and depletion of key stocks (e.g., atmospheric carbon, glacial ice mass, lake volumes) over continuous time. This transition moves the project beyond qualitative relationships to predictive simulations. Furthermore, initial calibration parameters have been introduced to align the baseline model behavior with historical mass-balance data from the Himalayan region, ensuring that the simulated degradation rates are grounded in empirical reality.

2.2 Implementation of Logarithmic Climate Forcing

To accurately reflect the physical relationship between atmospheric CO_2 concentrations and radiative forcing, the model now calculates temperature changes logarithmically rather than linearly, utilizing standard formulations (e.g., $\Delta F = \alpha \ln(C/C_0)$).

- **Impact:** This change ensures that the marginal warming effect of each additional unit of carbon diminishes as atmospheric concentration rises. This models the "saturation" of specific infrared absorption bands in the atmosphere, aligning the simulation's thermal behavior with established atmospheric physics and IPCC assessment methodologies.

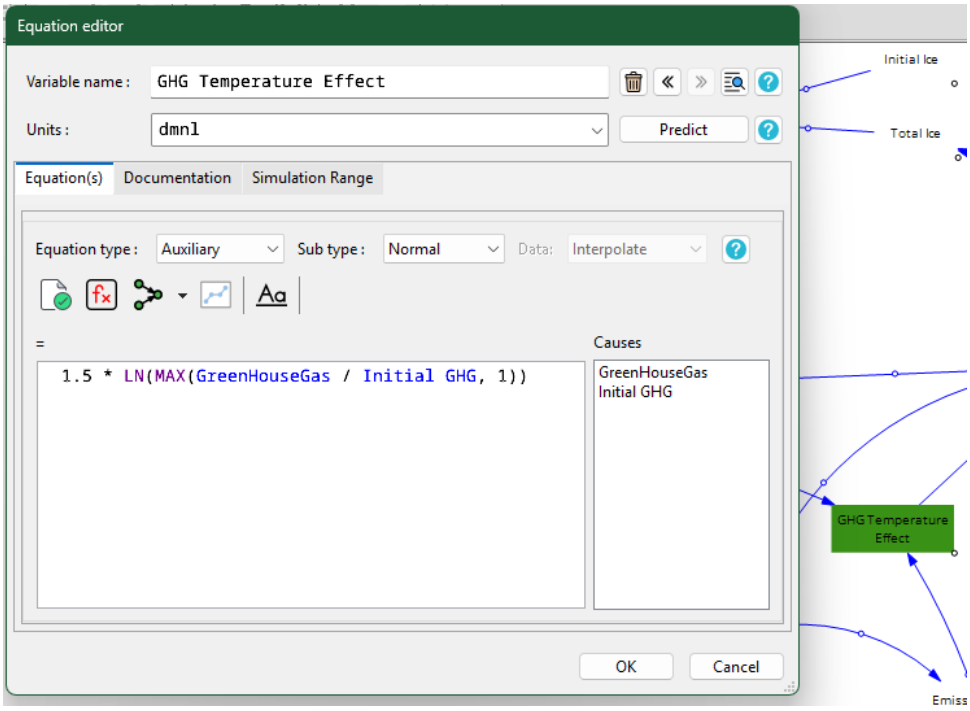

Figure 1: Stock and Flow structure demonstrating the Logarithmic Climate Forcing calculation.

2.3 Dynamic Carbon Cycle and Differentiated Sinks

The model's carbon cycle has been significantly expanded to reflect the complex reality of global carbon exchange. Previously, biological variables like afforestation were treated as generalized, limitless mitigators. The updated architecture now includes differentiated carbon sinks: oceanic uptake, terrestrial biosphere (land sink), and atmospheric retention.

- **Impact:** This structural update introduces dynamic capacity limits on carbon sequestration. For instance, it accounts for the decreasing efficiency of the ocean sink due to acidification (the Revelle factor) and the temperature-dependent limits of terrestrial respiration. Consequently, the simulation of afforestation and emission reduction policies is now much more realistic over extended 50- to 100-year time horizons, preventing the model from overestimating nature's ability to absorb continued emissions.

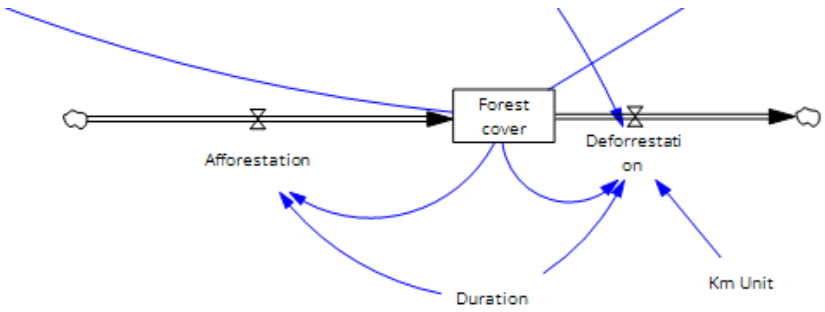

Figure 2: Causal Loop Diagram detailing the new Dynamic Carbon Cycle with differentiated sinks and capacity limits.

2.4 Permafrost Thaw Tipping Point

A critical new reinforcing feedback loop has been introduced to the climate subsystem: the Permafrost Thaw tipping point. As glacial degradation advances and regional temperatures reach defined critical thresholds, the model triggers the release of previously trapped greenhouse gases (both CO_2 and high-Global-Warming-Potential CH_4) from thawing permafrost stocks.

- **Impact:** This creates a profound non-linear acceleration in the warming trajectory. Once triggered, this endogenous emission source functions independently of anthropogenic reductions, drastically altering late-stage runoff rates, accelerating the timeline to "peak water," and exponentially increasing the risk of Glacial Lake Outburst Floods (GLOFs).

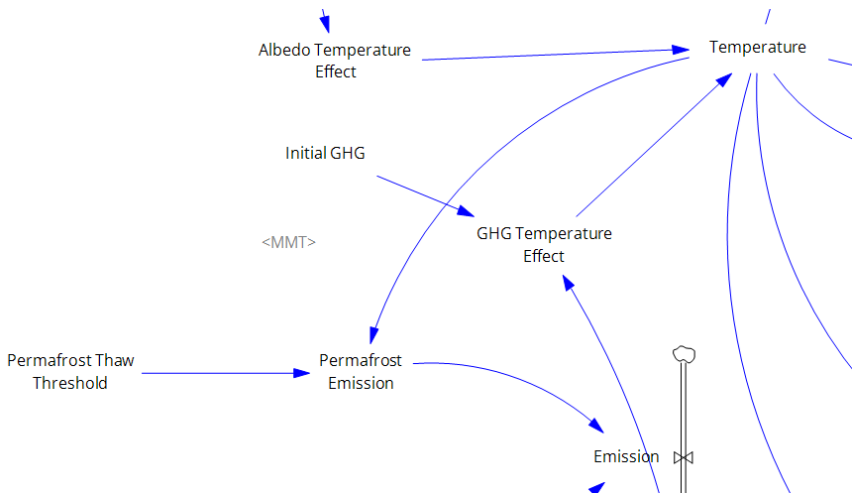

Figure 3: Model subsystem simulating the abrupt Permafrost Thaw feedback loop and methane release.

3 Updated References

1. Myhre, G., Highwood, E. J., Shine, K. P., & Stordal, F. (1998). New estimates of radiative forcing due to well mixed greenhouse gases. *Geophysical Research Letters*,

25(14), 2715-2718.

2. Schuur, E. A., McGuire, A. D., Schädel, C., Grosse, G., Harden, J. W., Hayes, D. J., ... & Vonk, J. E. (2015). Climate change and the permafrost carbon feedback. *Nature*, 520(7546), 171-179.

3. Sterman, J. D. (2000). *Business Dynamics: Systems Thinking and Modeling for a Complex World*. McGraw-Hill.

4. IPCC (2021). *Climate Change 2021: The Physical Science Basis. Contribution of Working Group I to the Sixth Assessment Report of the Intergovernmental Panel on Climate Change*. Cambridge University Press.

5. Brun, F., Berthier, E., Wagnon, P., Kääb, A., & Treichler, D. (2017). A spatially resolved estimate of High Mountain Asia glacier mass balances from 2000 to 2016. *Nature Geoscience*, 10(9), 668-673.

6. Bolch, T., Kulkarni, A., Kääb, A., Huggel, C., Paul, F., Cogley, J. G., ... & Stoffel, M. (2012). The State and Fate of Himalayan Glaciers. *Science*, 336(6079), 310-314.

A Original Preliminary Report

A.1 Project Summary

This project investigates the direct effect of greenhouse gases on glaciers using a system dynamics framework, focusing on the Himalayan region as a primary case study. By constructing a causal model, the research simulates how anthropogenic carbon emissions drive atmospheric warming, which in turn accelerates ice mass degradation. The simulation captures crucial hydrological transitions, tracking the conversion of stored glacial ice into surface runoff and evaluating the subsequent risks of altered streamflows and downstream flooding.

A central feature of the model is the integration of physical feedback mechanisms, specifically the albedo effect. As increasing greenhouse gas concentrations reduce overall ice cover, the exposed darker surfaces absorb more solar radiation, amplifying localized warming. Furthermore, the project incorporates biological variables—such as regional afforestation and carbon sequestration rates—to evaluate their potential in mitigating these warming trends. By running various greenhouse gas emission scenarios, the simulation aims to pinpoint irreversible tipping points in glacial melt and assess the effectiveness of systemic environmental interventions.

A.2 Introduction

Glaciers are highly sensitive barometers of global climate health. Over the past century, the exponential rise in anthropogenic greenhouse gas (GHG) emissions has fundamentally altered the Earth's energy balance. Gases such as carbon dioxide and methane trap outgoing infrared radiation, leading to a steady increase in mean global temperatures. This thermal forcing has a profound, accelerated effect on high-altitude cryospheres.

The Himalayan mountain range, harboring the largest volume of terrestrial ice outside the polar zones, serves as a critical testbed for understanding these impacts. The glaciers here act as massive frozen reservoirs that regulate the hydrology of South Asia, sustaining major river networks like the Ganges and Brahmaputra. However, elevated concentrations of greenhouse gases, compounded by local pollutants like black carbon, are driving rapid glacial retreat. While the initial phase of this melting can temporarily swell river volumes, the ultimate depletion of these ice reserves threatens long-term water security for millions. Understanding the complex, non-linear relationship between continuous GHG emissions and glacier stability requires an integrated modeling approach, which this project addresses through system dynamics.

A.3 Literature Survey and Research Gap

The accelerated degradation of high-altitude ice due to anthropogenic forcing is well-documented in contemporary climate science. The Intergovernmental Panel on Climate Change (IPCC, 2021) emphasizes that human-induced greenhouse gas emissions are the primary driver of the pervasive retreat of mountain glaciers globally [1]. Specific to the Asian highlands, Brun et al. (2017) utilized satellite imagery to provide a spatially resolved estimate of glacier mass balance, confirming significant and widespread mass loss across the Himalayas between 2000 and 2016 [2].

Similarly, Bolch et al. (2012) highlighted that while regional climatic variations exist, the overarching fate of Himalayan glaciers is dominated by sustained mass loss driven by

rising temperatures [3]. This warming trajectory not only threatens freshwater availability but also alters the regional hazard landscape. For instance, recent reports indicate a nearly 11.81% expansion in Himalayan glacial lake areas over the last decade, significantly amplifying the risk of Glacial Lake Outburst Floods (GLOFs) [4]. Furthermore, projections suggest that a 3°C rise in global temperatures could subject vast Himalayan regions to extended drought conditions, simultaneously disrupting seasonal snow accumulation and agricultural stability [5, 6].

Research Gap:
Despite extensive observational data confirming the adverse effect of greenhouse gases on glaciers, much of the literature remains siloed. Hydrological studies, climate forcing models, and socio-economic impact assessments are rarely integrated. Specifically, there is a deficit in predictive models that actively link continuous GHG emission pathways with real-time feedback loops (like the albedo effect) and ecological interventions within a single framework. This project fills that gap by deploying a comprehensive system dynamics model that synthesizes climate drivers, glacial mass balance, and potential mitigation strategies.

A.4 Project Objectives

- To develop an integrated system dynamics model that explicitly maps the causal relationship between greenhouse gas concentrations and glacier melt rates.
- To quantify the amplifying role of the ice-albedo feedback loop under varying anthropogenic emission scenarios.
- To simulate the downstream hydrological consequences, specifically tracking transitions from temporary runoff surges to eventual long-term water scarcity.
- To evaluate the mitigating potential of systemic interventions, such as carbon sequestration via afforestation, on stabilizing localized glacial environments.

A.5 Proposed Methodology

The research relies on System Dynamics modeling (using platforms like Stella or Vensim) to capture the complex, interdependent variables affecting glacial ecosystems.

- **Causal Loop Modeling:** We will map out both balancing and reinforcing feedback mechanisms. The core reinforcing loop will demonstrate how GHG-induced temperature increases cause ice melt, which lowers surface albedo, thereby increasing thermal absorption and further accelerating melt.

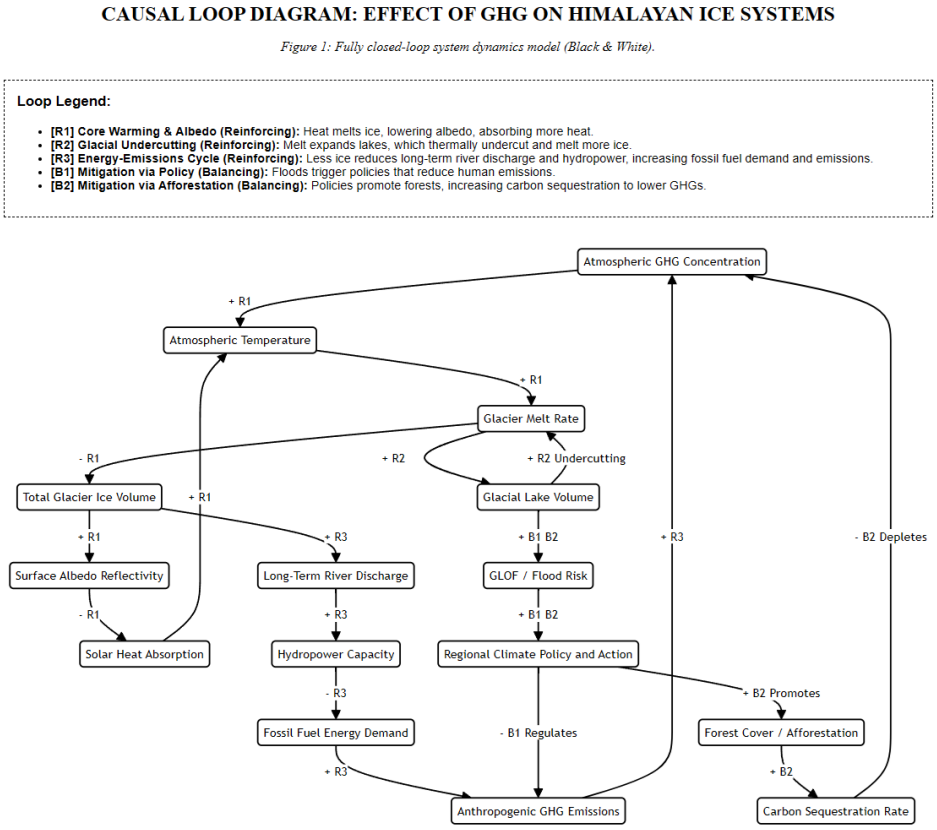

Figure 4: Causal Loop Diagram illustrating the feedback mechanisms between emissions, warming, and ice degradation.

- **Stock and Flow Structures:**
  - **Stocks:** Atmospheric GHG Load, Total Glacier Mass, and Glacial Lake Volume.
  - **Flows:** Rate of Carbon Emissions, Rate of Snow Accumulation, Rate of Ice Ablation (melting), and Runoff Discharge.

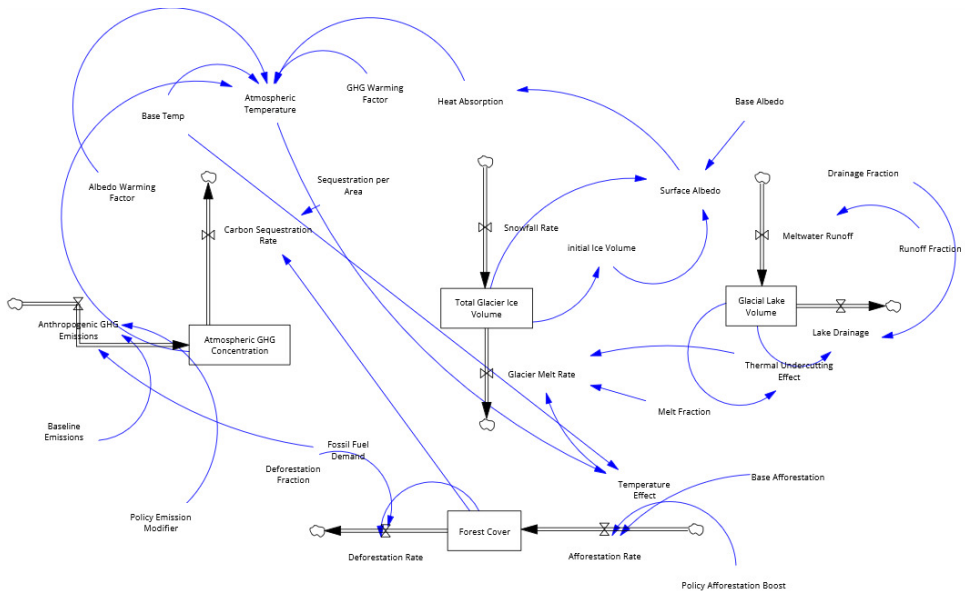

Figure 5: Stock and Flow Diagram representing the physical accumulations and rates of change in the Himalayan ice system.

- **Scenario Simulation:** The framework will be subjected to different emission trajectories (aligning with standard Shared Socioeconomic Pathways or SSPs) to observe the dynamic response of the glacier mass over a projected 50- to 100-year timeline.

A.6 Expected Outcomes

- Identification of critical ecological tipping points where the rate of glacier melting permanently outpaces winter accumulation due to sustained GHG levels.
- A robust visual and mathematical demonstration of "peak water"—the point at which increased river flow from accelerated melting reverses into chronic water shortages.
- Data-driven insights into how aggressively emission reductions and local afforestation must be implemented to preserve the remaining Himalayan ice systems.

A.7 Original References

1. IPCC (2021). *Climate Change 2021: The Physical Science Basis. Contribution of Working Group I to the Sixth Assessment Report of the Intergovernmental Panel on Climate Change*. Cambridge University Press.
2. Brun, F., Berthier, E., Wagnon, P., Kääb, A., & Treichler, D. (2017). A spatially resolved estimate of High Mountain Asia glacier mass balances from 2000 to 2016. *Nature Geoscience*, 10(9), 668-673.
3. Bolch, T., Kulkarni, A., Kääb, A., Huggel, C., Paul, F., Cogley, J. G., ... & Stoffel, M. (2012). The State and Fate of Himalayan Glaciers. *Science*, 336(6079), 310-314.

4. The Hindu (2024). *Himalayan glacial lakes saw 10.81% area expansion from 2011 to 2024: Report.*

5. The Hindu (2024). *Global warming: 90% Himalayas face year-long drought at 3 degrees, says study.*

6. The Hindu (2023). *Himalayan glaciers could lose 80% of their volume if global warming isn't controlled.*

7. The Hindu (2023). *Rising temperatures are leading to torrential rains in the Himalayas.*